YOUR VISION DESERVES THE RIGHT FOUNDATION.

Explore a plotted development designed around the opportunity of ownership, with space to shape your plans for tomorrow.

Examine the plot options, understand the layout, and explore the possibilities of ownership.

A WELL-CONNECTED ADDRESS. ACCESS TO MORE.

LOCATION PLAN

(Not to Scale)

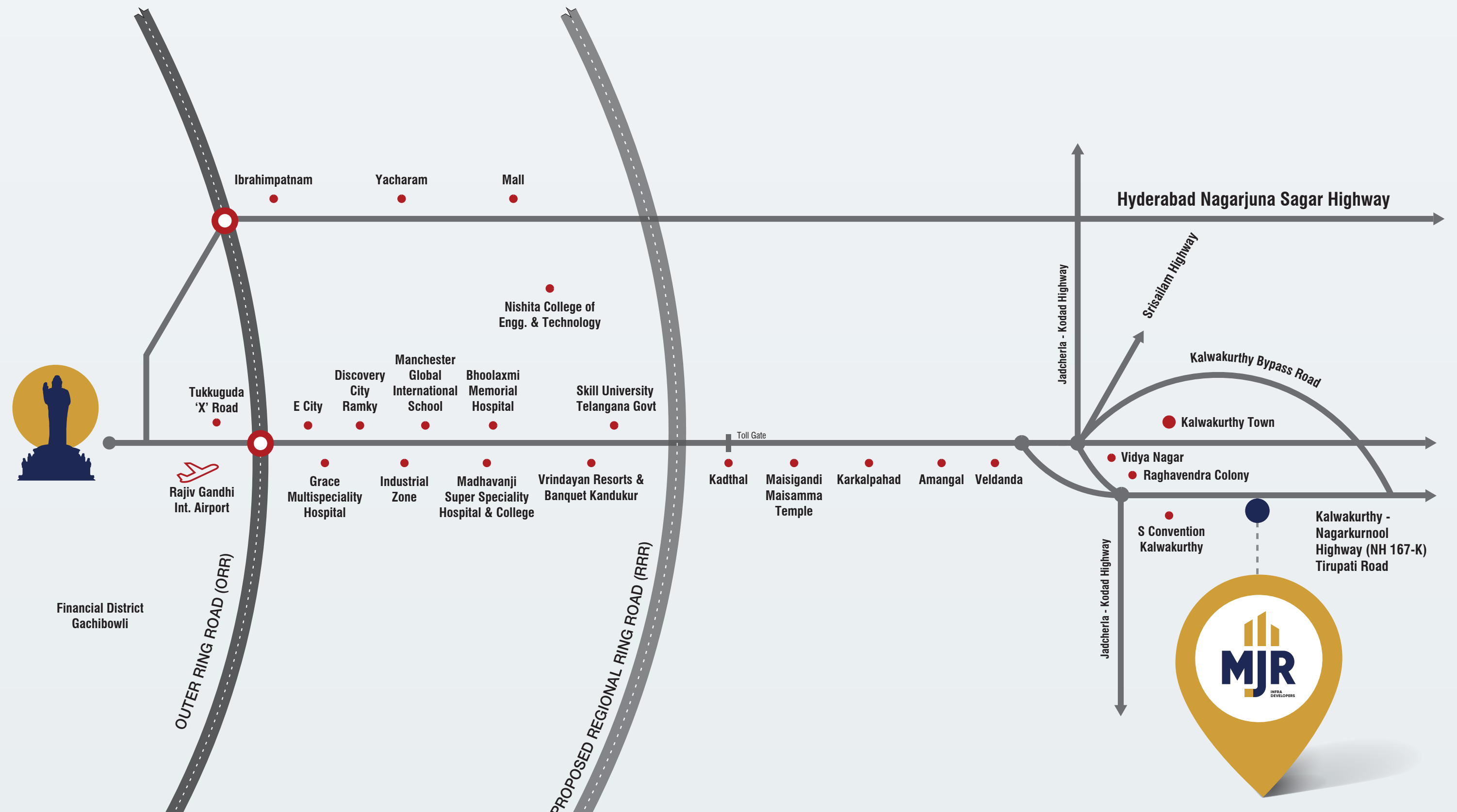
Ibrahimpatnam
Yacharam
Mall
Hyderabad Nagarjuna Sagar Highway
Nishita College of Engg. & Technology
Tukkuguda 'X' Road
E City
Discovery City Ramky
Manchester Global International School
Bhoolaxmi Memorial Hospital
Skill University Telangana Govt
Toll Gate
Rajiv Gandhi Int. Airport
Grace Multispeciality Hospital
Industrial Zone
Madhavanji Super Speciality Hospital & College
Vrindayan Resorts & Banquet Kandukur
Kadthal
Maisigandi Maisamma Temple
Karkalpahad
Amangal
Veldanda
Jadcherla - Kodad Highway
Srisailam Highway
Kalwakurthy Bypass Road
Kalwakurthy Town
Vidya Nagar
Raghavendra Colony
S Convention Kalwakurthy
Kalwakurthy - Nagarkurnool Highway (NH 167-K) Tirupati Road
Financial District Gachibowli
OUTER RING ROAD (ORR)
PROPOSED REGIONAL RING ROAD (RRR)
MJR INFRA DEVELOPERS

For Enquiries & Bookings:

+91-90100 55596

E : sales@mjrinfra.com
W : www.mjrinfra.com.in

TG RERA No. :
P01600010465

Site Address :

MJR TOWNSHIP - KALWAKURTHY
Survey No. 720 & 729, Tirupati Highway (NH 167K), Kalwakurthy
Nagarkurnool (D) - 509 324, Telangana, India

Disclaimer: The information provided in this brochure, including all pictures, images, plans, drawings, amenities, dimensions, elevations, illustrations, facilities, features, specifications, other information, etc. mentioned are indicative of the kind of development that is proposed and are subject to the approval from the competent authorities.

- *Concept & Designed by* www.envizonstudio.com - +91 98494 99191

A FOUNDATION FOR YOUR FUTURE

MJR TOWNSHIP

@KALWAKURTHY

PREMIUM OPEN PLOTS
MJR

AN OPPORTUNITY TO OWN LAND AND PLAN FOR TOMORROW.

A PLACE TO BUILD YOUR FUTURE.

A well-planned residential layout offering the opportunity to own land, plan your future home, and build your property portfolio.

Explore the available plots, review the layout, and discover the facilities designed to support comfortable community living.

MJR
MJR
MJR
MJR

DEVELOPMENT HIGHLIGHTS

EVERY ELEMENT HAS ITS PLACE.

An organised plotted layout with varied plot sizes, recreational facilities and road infrastructure to support a well-connected community.

104	7.93 Acres*	120–550 sq. yd.
Residential Plots	**LAYOUT AREA**	**Approx Plot Sizes**

MAKE YOUR NEXT MOVE COUNT.

OPENS UP NEW POSSIBILITIES.

A property decision is about more than where you buy. It is about what you choose to build, the value you hope to create, and the plans you want to put into motion.

With well-defined plots, landscaped surroundings and recreational amenities, this layout offers a setting to turn those plans into something tangible.

AMENITIES

MULTIPURPOSE LAWN Space for community gatherings	**SENIOR CITIZEN PARK** A dedicated setting for older adults
SWIMMING POOL Space to unwind and refresh	**3 ADDITIONAL PARKS** Pergolas + Sit-outs in each Park
OPEN SPACE For Meditation and Yoga	**WATER TANK** Dedicated water infrastructure
EV CHARGING STATION Electric Mobility Provision	**CHILDREN'S PLAY AREA** Dedicated Play Area

30 FT & 40 FT	150 FT
INTERNAL ROADS	WIDE ABUTTING ROAD

A LITTLE MORE SPACE TO LIVE WELL

From play areas for children to dedicated spaces for relaxation and fitness, the layout includes outdoor amenities for different ages and interests.

Children's Park

Senior Citizen Park



Three Parks with Pergolas & Sit-outs

Outdoor Fitness Area

DESIGNED AROUND EVERYDAY COMFORT

EV Charging (Planned Station)

Water Infrastructure

Swimming Pool

MORE THAN YOU EXPECT.

EXACTLY WHAT YOU NEED.

A well-rounded lifestyle begins with the right surroundings. Enjoy the freedom of open spaces, the convenience of modern facilities and the comfort of a community designed for the way you want to live.

SCHEDULE A SITE VISIT.

EXPLORE AVAILABLE PLOTS AND DISCUSS PURCHASE TERMS.

MJR TOWNSHIP

@KALWAKURTHY

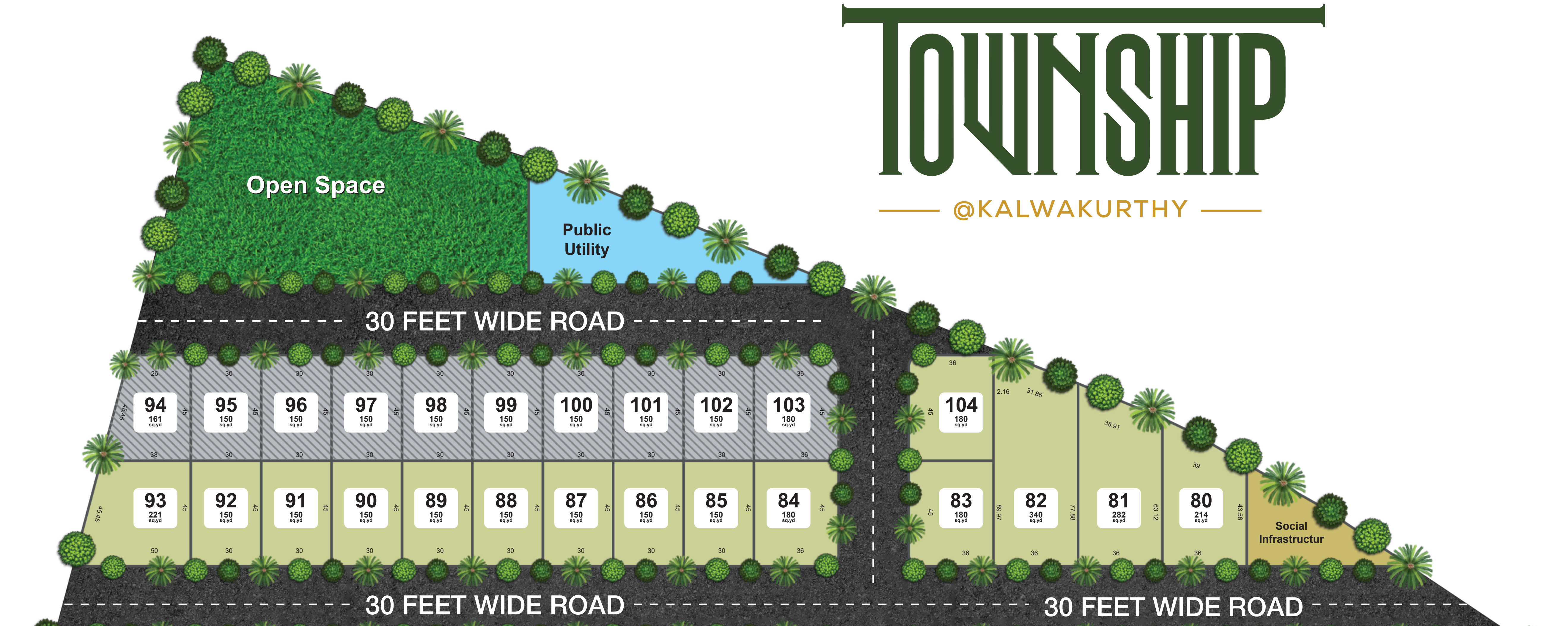


Open Space
Public Utility
30 FEET WIDE ROAD
94 161 sq.yd
95 150 sq.yd
96 150 sq.yd
97 150 sq.yd
98 150 sq.yd
99 150 sq.yd
100 150 sq.yd
101 150 sq.yd
102 150 sq.yd
103 180 sq.yd
93 221 sq.yd
92 150 sq.yd
91 150 sq.yd
90 150 sq.yd
89 150 sq.yd
88 150 sq.yd
87 150 sq.yd
86 150 sq.yd
85 150 sq.yd
84 180 sq.yd
104 180 sq.yd
83 180 sq.yd
82 340 sq.yd
81 282 sq.yd
80 214 sq.yd
Social Infrastructur
30 FEET WIDE ROAD
30 FEET WIDE ROAD
62 140 sq.yd
63 150 sq.yd
64 150 sq.yd
65 150 sq.yd
66 150 sq.yd
67 150 sq.yd
68 150 sq.yd
69 150 sq.yd
70 150 sq.yd
71 150 sq.yd
72 180 sq.yd
Social Infrastructur
61 120 sq.yd
60 150 sq.yd
59 150 sq.yd
58 150 sq.yd
57 150 sq.yd
56 150 sq.yd
55 150 sq.yd
54 150 sq.yd
53 150 sq.yd
52 150 sq.yd
51 180 sq.yd
30 FEET WIDE ROAD
73 180 sq.yd
74 180 sq.yd
75 180 sq.yd
76 180 sq.yd
77 180 sq.yd
78 180 sq.yd
44 360 sq.yd
79 147.67 sq.yd
50 180 sq.yd
49 180 sq.yd
48 180 sq.yd
47 180 sq.yd
46 180 sq.yd
45 180 sq.yd
43 180 sq.yd
42 121.48 sq.yd
W
S
N
E
40 FEET WIDE ROAD
40 FEET WIDE ROAD
Open Space
30 FEET WIDE ROAD
41 180 sq.yd
40 180 sq.yd
39 180 sq.yd
38 180 sq.yd
37 180 sq.yd
36 180 sq.yd
35 180 sq.yd
34 180 sq.yd
19 180 sq.yd
20 180 sq.yd
21 180 sq.yd
22 180 sq.yd
23 180 sq.yd
24 180 sq.yd
25 180 sq.yd
26 180 sq.yd
40 FEET WIDE ROAD
33 200 sq.yd
32 200 sq.yd
31 200 sq.yd
30 387 sq.yd
27 200 sq.yd
28 200 sq.yd
29 200 sq.yd
Social Infrastructur
30 FEET WIDE ROAD
30 FEET WIDE ROAD
18 550.44 sq.yd
17 356.6 sq.yd
16 400.3 sq.yd
15 401.1 sq.yd
14 401.8 sq.yd
13 402.6 sq.yd
12 404.2 sq.yd
11 404.9 sq.yd
10 405.6 sq.yd
9 406.4 sq.yd
8 407.1 sq.yd
7 407.9 sq.yd
6 408.6 sq.yd
5 409.4 sq.yd
4 410.1 sq.yd
3 360.9 sq.yd
2 267 sq.yd
1 211.8 sq.yd
150 FEET MAIN ROAD

7.93 ACRES

GATED COMMUNITY

A CLOSER LOOK AT YOUR FUTURE ADDRESS

Explore the master plan to see how the plots are arranged, how the internal roads connect, and how the layout comes together. Get a clear view of the available plots and the overall development before making your choice.

Hyderabad - Srisailam Highway

Umamaheshwaram Temple

Hyderabad

Colleges

Take a step towards your future with plot options that offer the freedom to plan, the flexibility to build and the opportunity to create lasting value through property ownership.

WHERE CONNECTIVITY MEETS CONVENIENCE.

Highways

Hospitals

Colleges

Convenient access to key routes and nearby destinations adds ease to everyday travel and value to the location.

Discover **MJR Township**'s surroundings, with access to nearby destinations and connecting routes that link the community to the wider region.

Gollatha Gudi (Alwanpalli Temple)



Kalwakurthy, Nettempadu Irrigation Projects

Statue of Gautama Buddha, Nagarkurnool